Wheat and Rice Distribution Analysis Dashboard

117.52M Sum of Total Rice Allocated	90.73M Sum of Total Rice Distributed	26.79M Sum of Balance Rice	37 COUNT STATES
97.81M Sum of Total Wheat Allocated	72.85M Sum of Total Wheat Distributed	24.96M Sum of Balance Wheat	740 COUNT DISTRIC

Wheat and Rice Distribution Analysis Dashboard

Count of District Code 2 by State Code 2

- 1
- 2
- 3
- 5
- 6
- 7
- 8
- 9

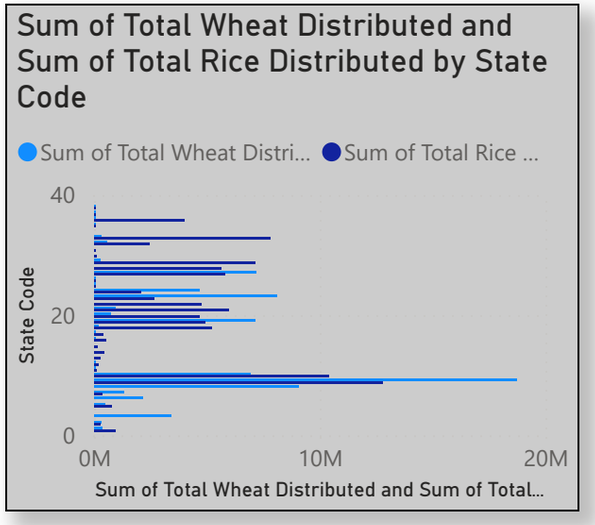

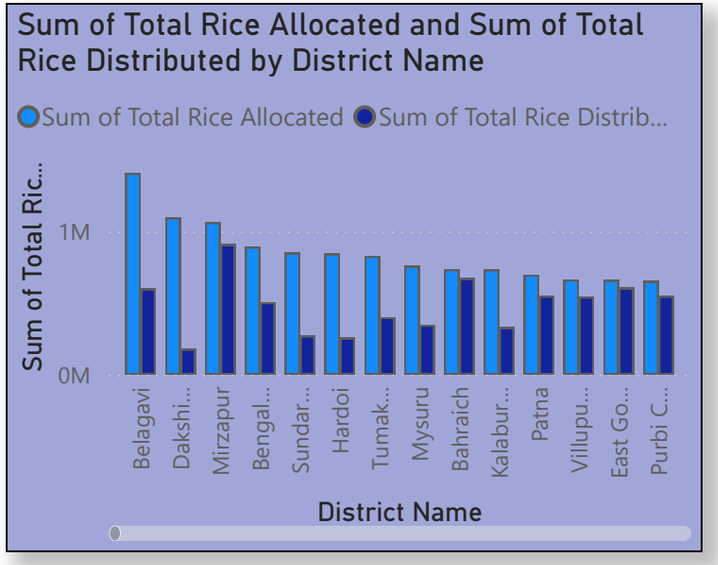

District Name	Sum of Total Rice Allocated
24 Paraganas North	366,444.73
24 Paraganas South	465,918.90
Adilabad	97,843.13
Agar Malwa	18,706.20
Agra	249,547.82
Ahmadabad	113,791.26
Ahmadnagar	390,895.12
Ahmednagar	18,531.24
Aizawal	45,638.54
Aizawl	3,807.62
Total	117,516,167.90

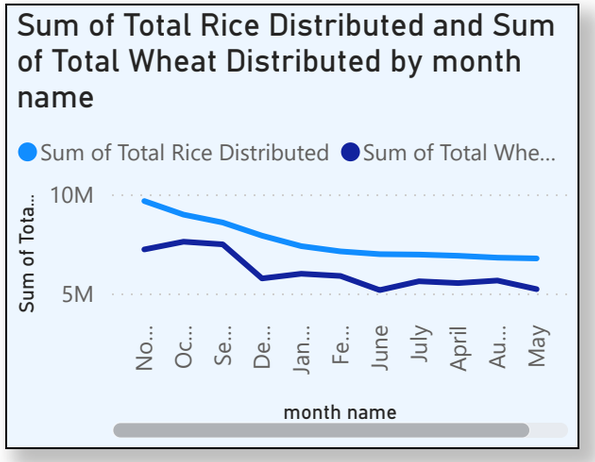

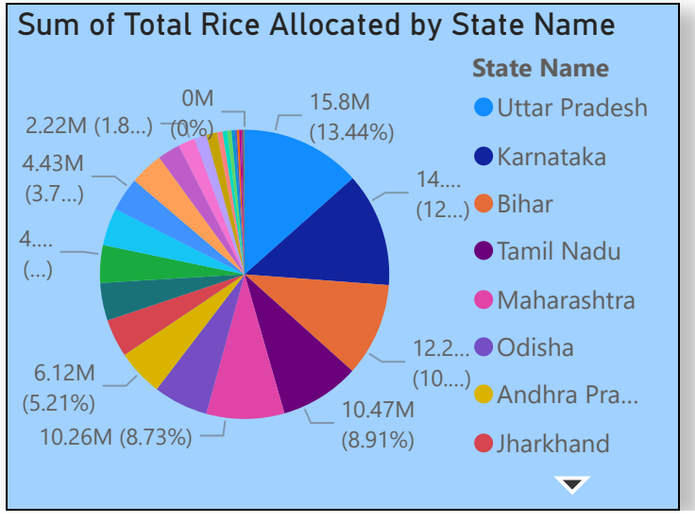

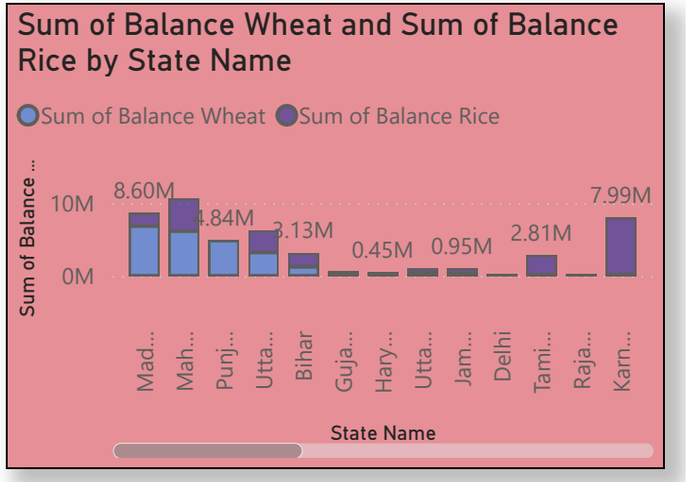

Insights

- **Kerala districts dominate the dataset (Pathanamthitta, Kannur etc.).**
- **Rice distribution is much higher than wheat distribution.**
- **Some districts show 0 wheat distribution, meaning wheat may not be allocated there.**
- **Allocated quantity is usually slightly higher than distributed quantity → leftover stock.**
- **Multiple states like Mizoram, Karnataka, Gujarat, Haryana appear with smaller values.**
- **Top wheat-producing states: Madhya Pradesh (10.63M), Maharashtra (8.60M), and Uttar Pradesh (6.25M) have the highest wheat balances.**
- **Top rice-producing states: Maharashtra (4.84M), Uttar Pradesh (3.13M), and Bihar (2.64M) show the largest rice balances.**
- **Combined balance: Madhya Pradesh and Maharashtra lead in the total sum of wheat & rice balances.**
- **Low or zero balances: Several states like Kerala, Telangana, Andaman & Nicobar, etc., have negligible or zero balances for both wheat and rice.**
- **State-wise comparison: Punjab has a higher wheat balance than rice, while Bihar has a notable rice balance compared to wheat.**